Real-Time Traffic Flow Prediction

(Using Arduino-Based Vehicle Detection and Machine Learning)

PROJECT PROPOSAL

SUPERVISOR:

MUHAMMAD AHTESHAM NOOR

SUBMITTED BY:

HAFIZA MUTEEBA NASEEM
(01-134222-055)

TEHREEM SHEHZADI
(01-134222-159)

SUBMISSION DATE:

SEPTEMBER 19th,2025

DEPARTMENT OF COMPUTER SCIENCE

BAHRIA UNIVERSITY E-8, ISLAMABAD.

Abstract:

Traffic congestion has emerged as one of the most persistent and pressing challenges in today's rapidly urbanizing environments, creating a wide spectrum of critical issues such as prolonged travel delays, excessive fuel consumption, and significant environmental pollution. These factors not only generate daily frustration for commuters but also negatively influence economic productivity, public health, and the overall quality of life in metropolitan areas. Traditional traffic management strategies often fail to adapt effectively to the dynamic and unpredictable nature of road conditions, which highlights the need for more intelligent, data-driven solutions. In response to this growing problem, this project proposes the development of a smart traffic monitoring and prediction system that integrates Arduino-based hardware with advanced machine learning techniques implemented in Python. The system utilizes Infrared (IR) or Ultrasonic sensors connected to an Arduino Uno or Nano microcontroller to detect vehicular movement, count vehicles in real time, and log this information for further processing. The collected traffic data is systematically stored in CSV format, after which Python libraries such as Pandas and NumPy are employed for data cleaning, preprocessing, and structuring, ensuring that the dataset is prepared for accurate modeling and analysis.

Once the traffic dataset is refined, machine learning algorithms including Linear Regression, Decision Trees, and Random Forests are applied to construct robust predictive models capable of forecasting future traffic flow patterns with improved accuracy. To ensure reliability, these models are rigorously tested and evaluated using performance metrics such as Mean Absolute Error (MAE) and Root Mean Squared Error (RMSE). The predictions are then compared with actual traffic data, and the results are presented using well-structured visualizations such as line graphs, bar charts, and plots that facilitate clear interpretation and understanding. The expected outcome of this research is the development of a functional prototype that not only demonstrates the ability to perform real-time vehicle detection and data logging but also integrates predictive modeling and systematic performance evaluation into one coherent framework. Ultimately, this project aims to contribute to the vision of smart city infrastructure by laying the foundation for intelligent traffic management systems that support authorities in making informed, data-driven decisions. By enabling proactive congestion control, improving road usage efficiency, conserving fuel resources, and reducing environmental impact, this system has the potential to address some of the most pressing challenges of urban mobility while promoting sustainable urban development in the long term.

Table of Contents

Abstract: 2

Figures 4

Tables 4

1. Introduction: 5

2. Objective: 6

3. Problem Statement: 6

4. Methadology: 7

4.1. Hardware Setup (Arduino-Based System) 8

4.1.1. Programming Languages 8

4.1.2. Components 9

4.1.3. Function 9

4.2. Data Collection & Storage: 9

4.3. Backend Development (Python) 9

4.3.1. Preprocessing 9

4.3.2. Model Training 9

4.3.3. Prediction 10

4.4. Model Evaluation (Comparison) 10

4.4.1. Metrics Used 10

4.4.2. Graphical Comparison 10

4.5. Output and Display 10

5. System Architechture: 11

5.1. Hardware Layer: 11

5.2. Communication Layer: 11

5.3. Processing Layer: 12

5.4. Data Storage Layer: 12

5.5. Output Layer: 12

6. Scopde 12

7. Literature review: 13

8. Feasibility Study 14

8.1. Risks Involved: 14

8.2. Resource Requirements: 14

9. Solution Application Areas 15

10. Milestones: 15

Gantt Chart: 16
11. References: 17

Figures

Figure 1: Methadology 8
Figure 2: System Architechture Diagram 11
Figure 3: Project Gantt Chart 16

Tables

Table 1: Comparison of Features: Traditional vs Automated Traffic Systems 7
Table 2: Milestones 16

1. Introduction:

The rapid growth of urban populations and the continuous rise in the number of vehicles on roads have made traffic congestion one of the most critical issues in modern cities. Congestion causes a wide range of problems, including extended travel times, increased fuel consumption, higher transportation costs, and severe air pollution. These issues not only inconvenience daily commuters but also reduce overall economic productivity and negatively impact public health and the environment. Conventional traffic management approaches, such as manually controlled signals or pre-set timing systems, are no longer sufficient to address the dynamic and unpredictable flow of vehicles. This creates a demand for innovative solutions that can adapt to real-time conditions and optimize traffic management for urban areas.

In recent years, the concept of smart traffic monitoring and prediction systems has gained significant attention as part of the broader vision of smart cities. Such systems rely on real-time data collection and predictive analytics to anticipate traffic behavior and help authorities manage congestion more effectively. Unlike static methods, intelligent systems can detect vehicle movements, process large amounts of data, and use predictive models to forecast traffic flow. This enables more flexible traffic signal control, timely interventions to prevent bottlenecks, and improved decision-making for urban planners. By integrating low-cost hardware sensors with advanced software tools, these systems also provide an affordable and scalable approach, making them suitable for both developed and developing regions.

The proposed project focuses on designing and developing a smart traffic monitoring and prediction system that combines Arduino-based hardware with machine learning algorithms implemented in Python. The hardware setup consists of Infrared (IR) or Ultrasonic sensors connected to an Arduino Uno or Nano microcontroller, which will detect vehicles and record their count in real time. The data collected is stored in CSV format and preprocessed using Python libraries such as Pandas and NumPy to ensure accuracy and consistency before being fed into predictive models. This hardware-software integration allows for efficient collection and handling of traffic data while maintaining simplicity and cost-effectiveness.

Once the dataset is prepared, machine learning techniques such as Linear Regression, Decision Trees, and Random Forests will be applied to build robust prediction models capable of forecasting future traffic flow. To evaluate the accuracy and reliability of the models, performance metrics such as Mean Absolute Error (MAE) and Root Mean Squared Error (RMSE) will be used. The results will be visualized through clear graphs and plots generated using Matplotlib and Seaborn, allowing easy interpretation of both actual and predicted traffic values. The expected outcome of this project is a functional prototype capable of real-time monitoring and prediction, contributing to the development of intelligent traffic management systems. Ultimately, the system has the potential to reduce congestion, save energy, and support sustainable urban development, aligning with the growing need for smarter and more efficient urban infrastructure.

2. Objective:

The objective of this project is to develop a smart traffic monitoring and prediction system that integrates Arduino-based sensors with machine learning techniques in Python. The system aims to collect real-time vehicle data, preprocess and analyze it, and build predictive models capable of forecasting future traffic patterns. By providing accurate insights into traffic flow, the project seeks to support efficient traffic management, reduce congestion, and contribute toward sustainable urban mobility solutions.

3. Problem Statement:

Traffic congestion remains one of the most critical challenges in urban environments, affecting not only commuters but also the economy, environment, and overall quality of life. The rapid rise in vehicle ownership has outpaced the capacity of existing infrastructure, creating severe bottlenecks and inefficiencies. Traditional traffic management systems, which often rely on static signal timings or manual monitoring, are increasingly ineffective in addressing the dynamic and unpredictable nature of traffic flow. This results in prolonged travel delays, excessive fuel consumption, and elevated levels of environmental pollution.

- **Accuracy of data collection**: Sensors must reliably detect vehicles; otherwise, false or missing data will lead to ineffective predictions.

- **Fault tolerance**: The system must be resilient against errors such as sensor malfunction, data loss, or power interruptions, since failures can disrupt entire traffic networks.

- **Scalability**: Traffic varies across locations, times of day, and seasons; a system that works in one setting may fail in another if it is not adaptable.

- **Real-time responsiveness**: Delays in data processing or prediction can make the system less useful, as traffic conditions change quickly.

- **Cost-effectiveness**: Automated systems should be affordable and practical to deploy at scale, especially in developing regions.

These issues highlight the need for intelligent, automated solutions that not only handle real-time data efficiently but also remain reliable, adaptive, and sustainable for long-term use.

Features Comparison:

Feature	Traditional (Manual/Static Systems)	Automated (Smart Systems)
Data Collection	Manual observation, fixed timers	Real-time sensors (IR/Ultrasonic, IoT devices)
Adaptability	Fixed, cannot adjust to changing conditions	Dynamic, adapts based on live traffic data
Accuracy	Prone to human error and outdated timing	High accuracy with continuous monitoring
Fault Tolerance	Low, dependent on human intervention	Designed to be resilient and error-tolerant
Scalability	Limited, difficult to expand or customize	Easily scalable across locations and networks
Environmental Impact	Higher fuel use and emissions due to delays	Reduced emissions through optimized flow
Decision-Making	Manual, slow, and reactive	Automated, fast, and predictive

Table 1: Comparison of Features: Traditional vs Automated Traffic Systems

4. Methadology:

This project follows a step-by-step methodology that connects hardware-based data collection with software-driven predictive modeling. The Arduino setup with sensors is used to detect vehicles and log traffic counts in real time, which are then stored in CSV format for further processing. Using Python, the collected data is cleaned, analyzed, and fed into machine learning models to predict future traffic flow. The performance of these models is evaluated using statistical metrics and visual comparisons, and the results are presented through reports and graphical outputs.

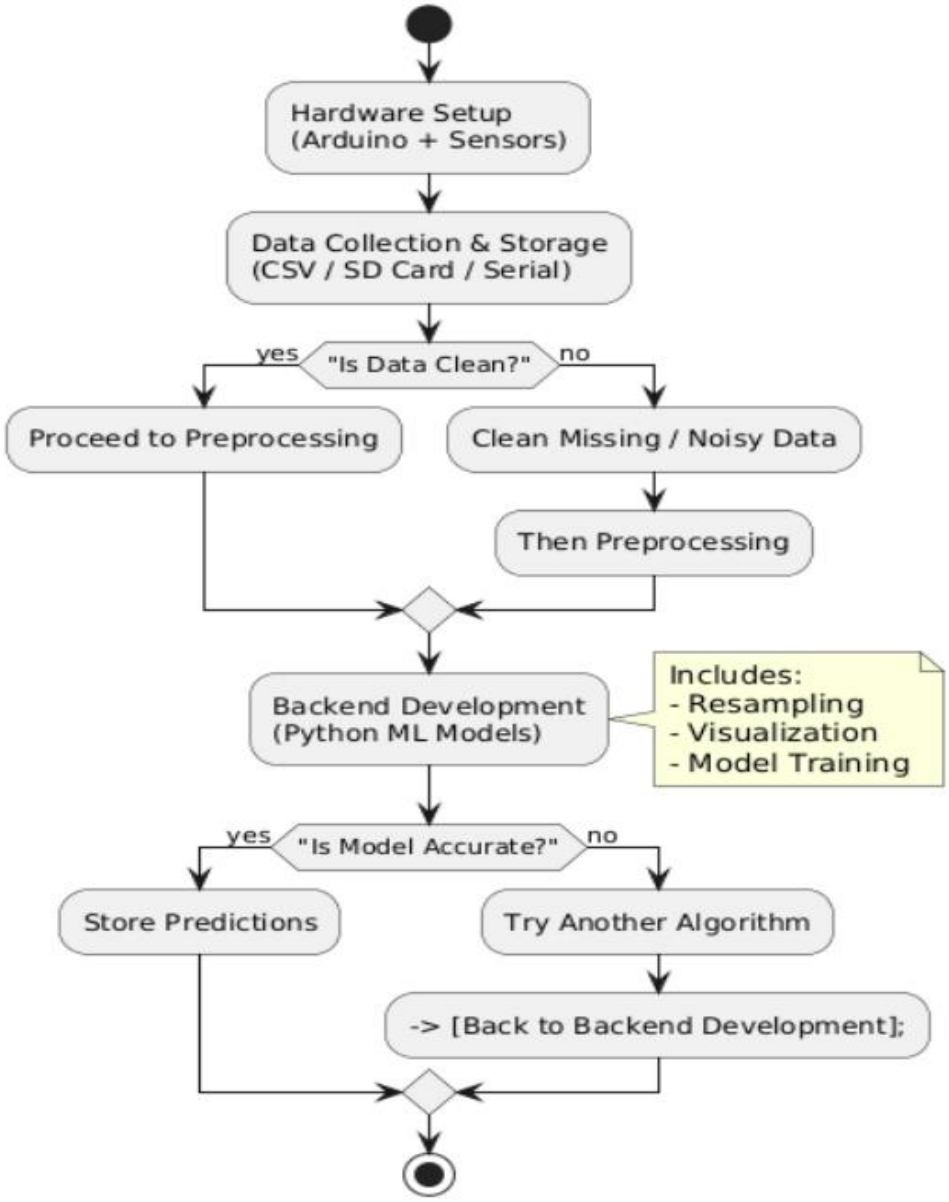

Figure 1: Methadology

4.1. Hardware Setup (Arduino-Based System)

4.1.1. Programming Languages

- **C/C++ (Arduino IDE):** Used to program the Arduino Uno/Nano for sensor integration, vehicle detection, and data logging operations.
- **Python:** Used for backend data processing, machine learning model training, and visualization of results.

4.1.2. Components

- **Arduino Uno/Nano:** Acts as the core microcontroller for managing sensor input and executing vehicle-counting logic.
- **IR or Ultrasonic sensors:** Deployed to detect the presence of vehicles by measuring distance or interruptions, ensuring accurate counts.
- **SD Card module / Serial connection:** Enables real-time logging of vehicle counts either on an SD card or by transmitting data to a PC.
- **LCD display:** Provides an immediate visual output of the vehicle counts and system status during operation.

4.1.3. Function

- **Vehicle detection:** Sensors will identify vehicle movement across a simulated road setup, sending signals to the Arduino.
- **Data logging:** The Arduino will log vehicle counts at fixed intervals (e.g., every 1 minute) with associated timestamps for structured data collection.

4.2. Data Collection & Storage:

- Vehicle counts recorded per time unit will be securely logged on an SD card for offline access.
- The same data will also be transmitted to a PC via serial communication for real-time monitoring and analysis.
- Data will be stored in **CSV format** with structured fields such as **Timestamp** and **Vehicle Count**, ensuring compatibility with analysis tools.

4.3. Backend Development (Python)

4.3.1. Preprocessing

- Handle missing, duplicate, or noisy data to ensure accuracy and consistency.
- Resample and group traffic counts into defined time intervals for structured analysis.
- Create visualizations such as line graphs and histograms to explore data patterns before training models.

4.3.2. Model Training

- Use Scikit-learn or similar libraries to build machine learning models.
- Apply algorithms like Linear Regression, Decision Trees, Random Forests, and Moving Averages to forecast traffic.

- (Optional) Implement LSTM for advanced time-series forecasting to capture complex patterns in traffic flow.

4.3.3. Prediction

- Generate predictions for vehicle counts in upcoming time intervals based on trained models.
- Store predicted values alongside actual observed counts for side-by-side comparison and evaluation.

4.4. Model Evaluation (Comparison)

4.4.1. Metrics Used

- Mean Absolute Error (MAE) measures the average absolute difference between predicted and actual values.
- Root Mean Squared Error (RMSE) provides insight into prediction errors with heavier penalties for larger deviations.
- Accuracy Percentage indicates the overall percentage of correct predictions made by the models.

4.4.2. Graphical Comparison

- Overlay line graphs of predicted vs. actual data to visually evaluate model performance.
- Use residual error plots to analyze differences and identify areas where models underperform.

4.5. Output and Display

Results will be presented using:

- **Console output:** Quick overview of predictions and evaluation metrics during execution.
- **CSV reports:** Store results and predictions for documentation and further analysis.
- **Graphs with Matplotlib/Seaborn:** Present visual comparisons of traffic trends and prediction accuracy.
- **(Optional) GUI/Web dashboard:** A Tkinter-based interface or lightweight web dashboard may be developed to allow user-friendly interaction with results..

5. System Architechture:

The system architecture consists of a combination of hardware and software modules that work together to collect, process, and predict traffic flow data. The setup is modular, making it easy to test and expand.

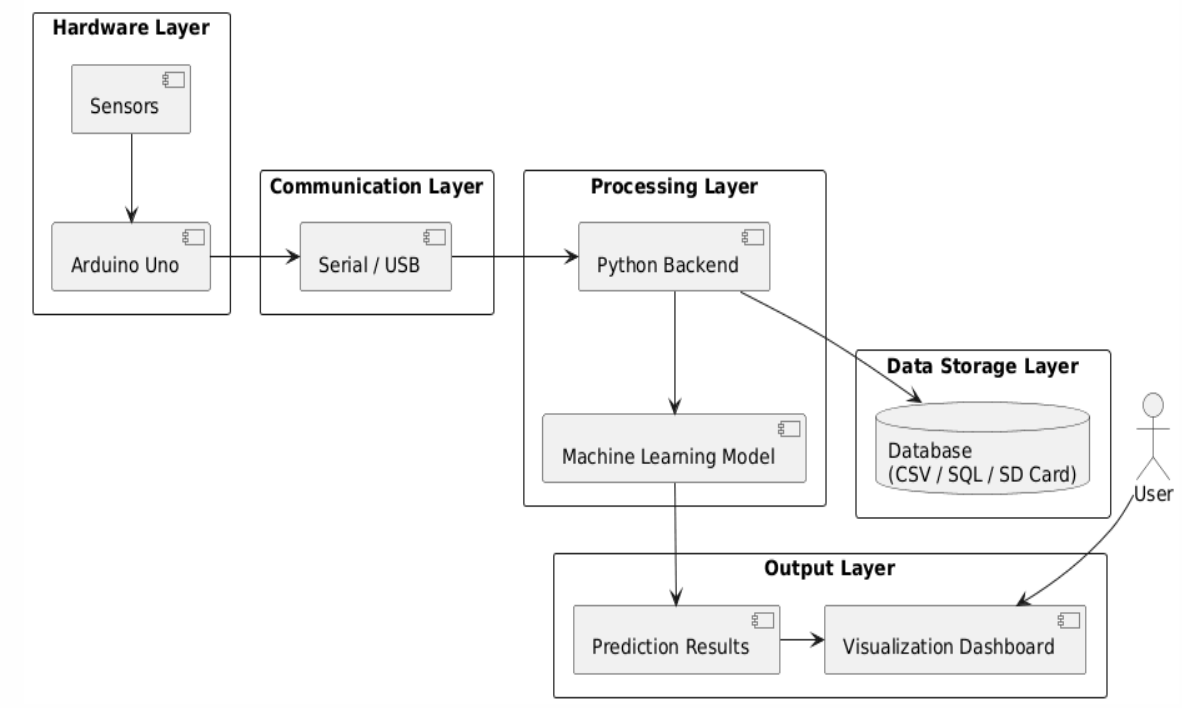

Figure 2: System Architechture Diagram

5.1. Hardware Layer:

This layer consists of sensors (IR or Ultrasonic) connected to the Arduino Uno. The sensors are responsible for detecting vehicles as they pass through the monitoring point. The Arduino collects this raw sensor data in real time and prepares it for further transmission.

5.2. Communication Layer:

The Arduino transmits the collected vehicle data to the processing unit through serial/USB communication. This layer ensures smooth data transfer between the hardware and the backend system without loss or corruption of information.

5.3. Processing Layer:

In this layer, the Python backend receives the transmitted data for initial handling and formatting. The cleaned and structured data is then fed into a machine learning model, which analyzes historical patterns to predict future traffic trends. This layer acts as the “brain” of the system where intelligent predictions are generated.

5.4. Data Storage Layer:

Processed data is stored in a structured format such as CSV files, SQL databases, or on an SD card. This ensures persistence and availability of traffic information for both current use and future reference. The user can also access stored data for further reporting and analysis.

5.5. Output Layer:

The final predictions and analysis results are presented to the user in a clear and accessible manner. The results can be displayed as raw prediction values or visualized through a dashboard containing charts and graphs. This layer ensures that users can easily interpret traffic patterns and forecasts.

6. Scope:

The project is focused on designing and developing a prototype traffic monitoring and prediction system that demonstrates how real-time data can be collected and analyzed to forecast traffic flow. The scope covers data collection, storage, preprocessing, predictive modeling, and visualization, while keeping the work limited to a controlled environment as a proof-of-concept.

- **Vehicle detection and counting**: The system will include the development of a prototype using Arduino Uno/Nano and sensors such as IR or Ultrasonic to detect vehicles and record their counts in real time.

- **Data logging and storage**: All traffic-related data will be logged with timestamps and stored in structured CSV format for ease of handling and further processing.

- **Data preprocessing and analysis**: The collected raw data will be cleaned, preprocessed, and structured using Python libraries to ensure its reliability and readiness for model training.

- **Machine learning model development**: Predictive models such as Linear Regression, Decision Trees, and Random Forests will be applied to analyze traffic patterns and forecast future flow.

- **Performance evaluation**: The accuracy and reliability of the models will be assessed using error metrics like MAE and RMSE to validate their effectiveness.

- **Visualization of results**: The predicted traffic values will be compared with actual data and represented visually through graphs and plots for easy interpretation and demonstration.

7. Literature review:

Recent research on traffic flow forecasting shows a clear shift from traditional statistical models toward machine learning (ML) and hybrid approaches that better capture the nonlinear, time-dependent behavior of urban traffic. Comprehensive reviews categorize traffic prediction techniques into statistical, machine-learning, and deep-learning families and highlight preprocessing, feature engineering, and temporal–spatial modeling as key factors that determine prediction quality. [Link]

Several applied studies demonstrate that classical ML algorithms—such as Support Vector Regression (SVR), Decision Trees, and ensemble methods like Random Forest—often outperform simple linear models on short-term traffic forecasting tasks, especially when trained on well-preprocessed historical time-series data; ensemble methods in particular have been reported to provide robust accuracy across different urban contexts. [Link] At the same time, recent surveys and experiments emphasize that model performance depends heavily on data quality and on how temporal patterns (rush hours, day-of-week effects) and exogenous factors (weather, events) are encoded into features; many modern systems therefore combine domain preprocessing with ML pipelines to improve reliability. [Link]

On the sensing and data-acquisition side, non-intrusive sensors such as ultrasonic and infrared modules—when integrated with microcontrollers like Arduino Uno/Nano—have been successfully used in low-cost vehicle counting and traffic information systems. These hardware approaches can provide timely vehicle counts and speed estimates that form viable inputs for ML models in prototype ITS applications. Practical studies and implementations discuss challenges such as sensor placement, environmental noise (sunlight, weather), and data-logging reliability, but generally find Arduino-based setups suitable for proof-of-concept prototypes and local deployments. [Link]

Finally, recent work on IoT-driven, ML-based traffic systems shows the benefits of combining edge data collection with cloud or local ML processing: such systems enable near real-time monitoring, short-term forecasting, and visualization for decision support. Evaluation practices in these studies commonly use error metrics like MAE and RMSE to compare model predictions against observed traffic, and visualization (time-series plots, error charts) is stressed as essential for interpreting model behavior and communicating results to stakeholders. [Link]

Gap this project addresses: while large-scale ITS research often relies on high-fidelity traffic datasets and complex deep-learning architectures, there is a practical need for low-cost, easily reproducible prototypes that demonstrate end-to-end capability—from Arduino sensor acquisition to Python preprocessing, ML prediction (including interpretable models like Decision Trees and Random Forests), and evaluation with MAE/RMSE. This project positions itself in that niche by implementing a compact, reproducible pipeline suitable for university-level FYP work and as a foundation for future scaling and integration with smarter urban infrastructures.

8. Feasibility Study

With the defined scope of developing a prototype for traffic data collection and prediction, the project is considered feasible within the proposed schedule. The integration of Arduino-based hardware with Python-based backend processing provides a structured and manageable approach, ensuring timely progress and achievable results.

8.1. Risks Involved:

- **Sensor Malfunction or Inaccuracy:** IR/Ultrasonic sensors may fail to detect vehicles accurately due to environmental factors such as distance or noise. This risk can be minimized by testing multiple sensors and calibrating them properly before deployment.
- **Data Loss During Transfer:** Communication errors between Arduino and PC may lead to incomplete or corrupted data. To mitigate this, data will be redundantly stored on an SD card or validated during serial transfer.
- **Model Accuracy Issues:** The machine learning model may not produce highly accurate predictions if the dataset is limited or noisy. This risk will be handled by applying data cleaning techniques and experimenting with different ML algorithms for better performance.
- **Time Constraints:** Implementation and testing phases may take longer than expected. Proper scheduling, task division, and milestone tracking will help keep the project on time.

8.2. Resource Requirements:

- **Hardware Resources:** Arduino Uno/Nano, IR or Ultrasonic sensors, SD card module, connecting wires, breadboard, and optionally an LCD display module.
- **Software Resources:** Arduino IDE for programming the microcontroller, Python (with Pandas, NumPy, Matplotlib, and Scikit-learn) for data processing and prediction.
- **Computing Resources:** A personal computer or laptop capable of running Python-based data analysis and machine learning models efficiently.

- **Other Requirements:** Access to testing environments for simulating traffic flow, storage space for datasets (CSV files), and stable power/USB connectivity for Arduino operation.

9. Solution Application Areas

The proposed project holds significant real-world value as it contributes to solving one of the most pressing challenges of modern cities—traffic congestion. By combining hardware-based sensing with machine learning prediction, the solution provides a practical and scalable approach to traffic monitoring and forecasting.

The **target domain** for this project is primarily the **transportation and traffic management industry**, along with **urban planning and smart city development** initiatives. In traffic management, the system can help authorities monitor vehicle flow in real time, predict congestion trends, and make data-driven decisions for improving road usage. For urban planning, the historical datasets generated can support long-term infrastructure development, such as where to expand roads, add new traffic signals, or build alternate routes.

The **benefits** of this solution include reduced travel time for commuters, optimized traffic signal timings, and improved flow of vehicles across busy intersections. Additionally, it indirectly contributes to fuel efficiency and reduced emissions, supporting environmental sustainability goals. The project can also be extended to **IoT-based smart city systems**, integrating with dashboards and mobile applications for user-friendly access.

10. Milestones:

Milestone	Tasks/Sub-Tasks	Duration
1. Project Planning & Requirements	Define scope, collect resources, finalize hardware/software requirements	2 weeks
2. Literature Review & Background Study	Study existing systems, identify gaps, finalize methodology	3 weeks
3. Hardware Setup	Connect Arduino with IR/Ultrasonic sensors, test sensor accuracy	3 weeks
4. Arduino Programming	Write C/C++ code for sensor input, timestamping, and data logging	2 weeks
5. Data Storage & Transfer Setup	Configure SD card/serial connection, save data in CSV format	2 weeks

6. Backend Data Processing	Clean and preprocess data in Python using Pandas/NumPy	2 weeks
7. Machine Learning Model Development	Train models (Linear Regression, Decision Tree), evaluate prediction accuracy	4 weeks
8. Visualization & Reporting	Generate graphs (Matplotlib), display predictions, compare actual vs. predicted data	2 weeks
9. System Integration & Testing	Integrate hardware + backend, test with live data, refine model	2 weeks
10. Documentation & Final Report	Prepare project report, presentation, and finalize results	2 weeks

Table 2: Milestones

Gantt Chart:

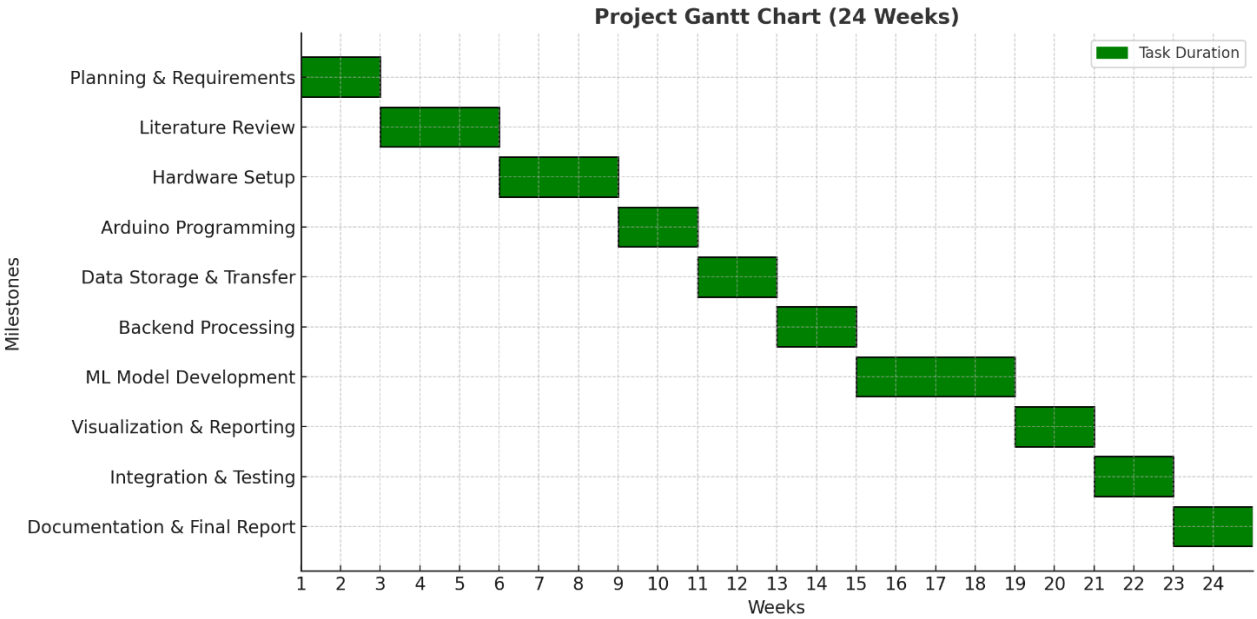

Figure 3: Project Gantt Chart

11. References:

[1] Arduino Official Documentation – https://www.arduino.cc

[2] Scikit-learn ML Library – https://scikit-learn.org/

[3] Pandas Python Library – https://pandas.pydata.org/

[4] NumPy Developers. (n.d.). *NumPy: The fundamental package for scientific computing with Python*. Retrieved from https://numpy.org

[5] Hunter, J. D., & Matplotlib Development Team. (n.d.). *Matplotlib: Visualization with Python*. Retrieved from https://matplotlib.org

[6] Waskom, M., et al. (n.d.). *Seaborn: Statistical data visualization*. Retrieved from https://seaborn.pydata.org

[7] Brownlee, J. (2017). *Deep learning for time series forecasting: Predict the future with MLPs, CNNs and LSTMs in Python*. Machine Learning Mastery. Retrieved from https://machinelearningmastery.com

[8] Dua, D., & Graff, C. (2019). *UCI Machine Learning Repository*. University of California, Irvine. Retrieved from http://archive.ics.uci.edu/ml

[9] SparkFun Electronics. (n.d.). *Infrared and ultrasonic sensor guides*. SparkFun. Retrieved from https://learn.sparkfun.com

[10] Parallax Inc. (n.d.). *Ultrasonic distance sensor technical documentation*. Retrieved from https://www.parallax.com

[11] TkDocs. (n.d.). *Tkinter 8.5 reference: A GUI for Python*. Retrieved from https://tkdocs.com

[12] Microsoft. (n.d.). *Excel documentation*. Microsoft Docs. Retrieved from https://learn.microsoft.com/en-us/office/excel

[13] CI Machine Learning Repository – Traffic Data

[14] Time Series Forecasting Tutorials – Jason Brownlee, Machine Learning Mastery

[15] IR Sensor and Ultrasonic Sensor Integration Guides